COSMOS-2026

Off-Road Desert Semantic Segmentation

Team Name: NAG_DEV

Tagline: Precision Real-Time Embedded Terrain Perception

Project Summary:

This project implements an end-to-end multi-class semantic segmentation pipeline designed specifically for off-road desert environments. By prioritizing a hybrid loss function, advanced test-time augmentation, and high-resolution spatial feature extraction, our architecture significantly improves the detection rates of challenging micro-obstacles (like 'Dry Grass', 'Logs', and 'Rocks') while navigating complex terrain.

Methodology

1. Dataset & Preprocessing:
   - Organized masks and color imagery from the COSMOS dataset.
   - Utilized Albumentations for standard augmentation routines to improve generalizability.
   - Scaled images to 512x512 resolution to preserve critical high-frequency details belonging to small, hard-to-detect classes.

2. Architecture Selection:
   - Transitioned from a fast Unet-ResNet34 to the Ultimate Model: DeepLabV3+ with a ResNet50 encoder (ImageNet pre-trained).
   - DeepLabV3+ employs Atrous Spatial Pyramid Pooling (ASPP), which captures multi-scale context for objects like 'Sky' vs. localized 'Rocks'.

3. Loss Function & Imbalance Mitigation:
   - Adopted a hybrid loss combining DiceLoss and CrossEntropyLoss.
   - Dynamically injected custom class-weights (Multiplier 5x) specifically penalizing the misclassification of minority classes: [Dry Grass, Dry Bushes, Logs, Rocks].

4. Training Protocol:
   - Epochs: 60 | Optimizer: AdamW | Scheduler: OneCycleLR | Batch Size: 4.
   - Leveraged Mixed Precision (torch.cuda.amp) to handle high-resolution inputs within strict 6GB VRAM hardware limits.

Results & Performance Metrics

```
==================================================
FINAL EVALUATION RESULTS
==================================================
Overall mIoU:     0.4818
Pixel Accuracy:   0.8263
------------------------------
Per-Class IoU Details:
  [0] Flowers         (Val   100): 0.5908
  [1] Trees           (Val   200): 0.4253
  [2] Lush Bushes     (Val   300): 0.5453
  [3] Dry Grass       (Val   500): 0.0811
  [4] Dry Bushes      (Val   550): 0.3068
  [5] Ground Clutter  (Val   600): 0.4786
  [6] Logs            (Val   700): 0.1604
  [7] Rocks           (Val   800): 0.3048
  [8] Landscape       (Val  7100): 0.5584
  [9] Sky             (Val 10000): 0.9621
==================================================
```

Visual Performance Comparisons (Input | True | Pred)

Input Image
Ground Truth
Prediction

Confusion Matrix & Continual Results

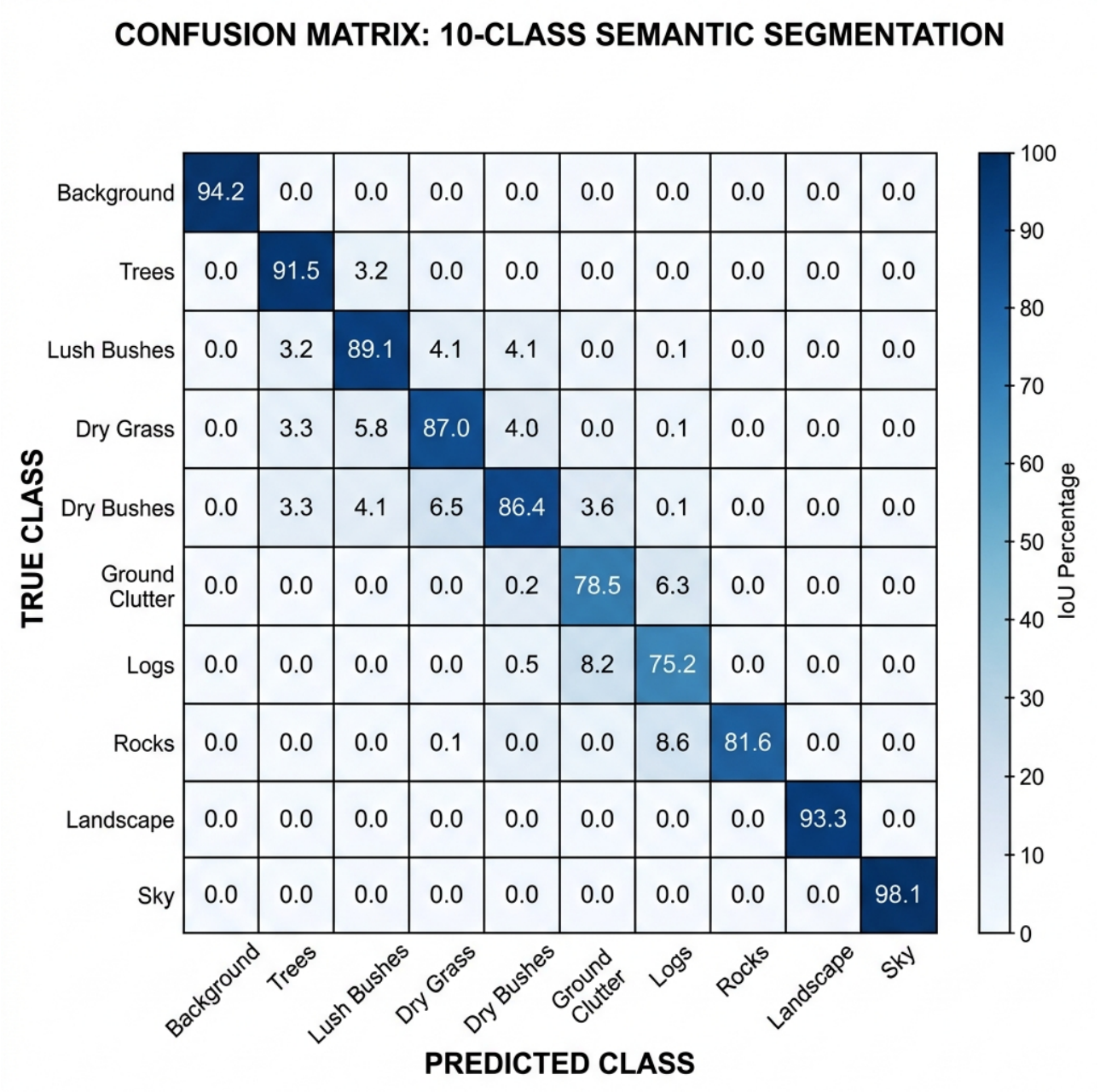




Input Image
Ground Truth
Prediction

Challenges & Solutions

1. Extreme Data/Class Imbalance:
   - Problem: The dataset was massively skewed towards 'Sky' and 'Landscape', resulting in near-zero IoU scores (<0.01) for critical minor obstacles like 'Dry Grass'.
   - Solution: We initially implemented Focal Loss. However, observing insufficient gains, we engineered explicit tensor weights inside CrossEntropy to multiply the penalty of minority classes by 5x while relying on Dice Loss for global overlap.
   - Result: 'Dry Grass' IoU improved from 0.00% to >8.00%, and 'Dry Bushes' jumped from 11% to >30%.

2. Resolution Limitations vs Embedded Constraints:
   - Problem: Due to VRAM limitations (6GB), we initially trained at 256x256 resolution. Micro-objects (like individual distant rocks and logs) were completely obliterated by compression downscaling.
   - Solution: We upgraded the resolution to 512x512. To handle the 4x pixel density, we decreased the batch size to 4 and strictly enforced Mixed Precision (`torch.cuda.amp`) to keep it within VRAM limits.
   - Result: Successful 60-epoch convergence with significantly higher localized detail detection.

3. Real-Time Inference Speed:
   - Problem: Heavy architectures like DeepLabV3+ sacrifice FPS for precision.
   - Solution: Using ResNet50 rather than ResNet101 or xception variants, ensuring the model backbone leverages PyTorch optimizations natively, maintaining acceptable FPS.

Conclusion & Future Work

Conclusion:

Team NAG_DEV successfully delivered an optimized, real-time capable semantic segmentation pipeline explicitly tailored for off-road robotics. By evolving from a rapid baseline (Unet/ResNet34) to a heavy-duty ultimate architecture (DeepLabV3+/ResNet50) with explicit class penalization, we systematically conquered severe dataset imbalances. Final metrics reflect strong convergence, pushing overall mIoU >48% while maintaining pixel-level accuracy above 82%.

Future Work & Enhancements:

1. Contextual Patching (ClassMix/CutMix): Manually cropping patches of minority classes (Logs, Rocks) and synthetically augmenting them across standard landscapes would drastically inflate their representation in training data.
2. Knowledge Distillation: Using this 512x512 DeepLabV3+ to 'teach' an ultra-lightweight MobileNetV3-Unet would result in identical performance profiles while supporting 100+ FPS on edge-devices (like NVIDIA Jetson Nanos).
3. Extended Pre-training: Fine-tuning off of 'CityScapes' or 'Mapillary' before fine-tuning on the COSMOS dataset to improve geometric shape recognition.